<u>Client wants to create a road accident dashboard for the year 2021 and 2022 so that can have insights on the following requirements</u>

Primary KPI - total casualties taken place after the accident

Primary KPI's - total casualty and percentage of total with respect to accident and maximum casualty by type of vehicle

Secondary KPI

- total causalities with respect to vehicle type
- Monthly trends showing comparison of casualties for current year and previous year
- Maximum casualties by road type
- Distribution of total casualties by road surface
- Relation between casualties by area location and by day night

AutoSave

Road Accident Data

Search (Cmd + Ctrl + U)

Home Insert Draw Page Layout Formulas Data Review View

Comments Share

Paste

Calibri (Body) 12

General

Conditional Formatting
Format as Table
Cell Styles

Insert
Delete
Format

Editing

Add-ins

Analyse Data

Solver

E11 Saturday

Accident_Inde	Accident Date	Month	Year	Day_of_Week	Junction_Control	Junction_Detail	Accident_Seve	Latitude	Light_Conditions	Local_Authority_(District)	Carriageway_Ha
200901BS70001	01/01/21	Jan	2021	Thursday	Give way or uncontrolled	T or staggered junction	Serious	51.51227	Daylight	Kensington and Chelsea	None
200901BS70002	05/01/21	Jan	2021	Monday	Give way or uncontrolled	Crossroads	Serious	51.5144	Daylight	Kensington and Chelsea	None
200901BS70003	04/01/21	Jan	2021	Sunday	Give way or uncontrolled	T or staggered junction	Slight	51.48667	Daylight	Kensington and Chelsea	None
200901BS70004	05/01/21	Jan	2021	Monday	Auto traffic signal	T or staggered junction	Serious	51.5078	Daylight	Kensington and Chelsea	None
200901BS70005	06/01/21	Jan	2021	Tuesday	Auto traffic signal	Crossroads	Serious	51.48208	Darkness - lights lit	Kensington and Chelsea	None
200901BS70006	01/01/21	Jan	2021	Thursday	Give way or uncontrolled	T or staggered junction	Slight	51.49342	Daylight	Kensington and Chelsea	None
200901BS70007	08/01/21	Jan	2021	Thursday	Give way or uncontrolled	T or staggered junction	Serious	51.48018	Daylight	Kensington and Chelsea	None
200901BS70008	02/01/21	Jan	2021	Friday	Auto traffic signal	Crossroads	Slight	51.49196	Daylight	Kensington and Chelsea	None
200901BS70009	07/01/21	Jan	2021	Wednesday	Give way or uncontrolled	T or staggered junction	Slight	51.49646	Daylight	Kensington and Chelsea	None
200901BS70010	10/01/21	Jan	2021	Saturday	Auto traffic signal	Crossroads	Slight	51.48115	Daylight	Kensington and Chelsea	None
200901BS70011	07/01/21	Jan	2021	Wednesday	Auto traffic signal	Crossroads	Slight	51.48208	Darkness - lights lit	Kensington and Chelsea	None
200901BS70012	16/01/21	Jan	2021	Friday	Auto traffic signal	Crossroads	Slight	51.495	Darkness - lights lit	Kensington and Chelsea	None
200901BS70015	12/01/21	Jan	2021	Monday	Data missing or out of range	Not at junction or within 20 metres	Slight	51.49878	Daylight	Kensington and Chelsea	None
200901BS70016	09/01/21	Jan	2021	Friday	Give way or uncontrolled	T or staggered junction	Slight	51.50619	Daylight	Kensington and Chelsea	None
200901BS70017	17/01/21	Jan	2021	Saturday	Give way or uncontrolled	T or staggered junction	Slight	51.49308	Daylight	Kensington and Chelsea	None
200901BS70019	25/01/21	Jan	2021	Sunday	Auto traffic signal	Crossroads	Serious	51.48208	Darkness - lights lit	Kensington and Chelsea	None
200901BS70020	26/01/21	Jan	2021	Monday	Give way or uncontrolled	Crossroads	Slight	51.48867	Darkness - lights lit	Kensington and Chelsea	None
200901BS70021	26/01/21	Jan	2021	Monday	Data missing or out of range	Not at junction or within 20 metres	Slight	51.48236	Darkness - lights lit	Kensington and Chelsea	None
200901BS70023	19/01/21	Jan	2021	Monday	Give way or uncontrolled	T or staggered junction	Slight	51.49391	Daylight	Kensington and Chelsea	None
200901BS70024	27/01/21	Jan	2021	Tuesday	Data missing or out of range	Not at junction or within 20 metres	Slight	51.5093	Darkness - lights lit	Kensington and Chelsea	None
200901BS70025	21/01/21	Jan	2021	Wednesday	Give way or uncontrolled	T or staggered junction	Slight	51.50228	Darkness - lights lit	Kensington and Chelsea	None
200901BS70026	22/01/21	Jan	2021	Thursday	Give way or uncontrolled	T or staggered junction	Slight	51.50759	Darkness - lights lit	Kensington and Chelsea	None
200901BS70027	31/01/21	Jan	2021	Saturday	Auto traffic signal	Crossroads	Serious	51.48859	Daylight	Kensington and Chelsea	None
200901BS70028	03/02/21	Feb	2021	Tuesday	Give way or uncontrolled	T or staggered junction	Slight	51.52834	Daylight	Kensington and Chelsea	None
200901BS70030	31/01/21	Jan	2021	Saturday	Give way or uncontrolled	T or staggered junction	Slight	51.4992	Darkness - lights lit	Kensington and Chelsea	None
200901BS70031	31/01/21	Jan	2021	Saturday	Give way or uncontrolled	T or staggered junction	Serious	51.51708	Daylight	Kensington and Chelsea	None
200901BS70032	29/01/21	Jan	2021	Thursday	Auto traffic signal	Crossroads	Slight	51.48944	Daylight	Kensington and Chelsea	None
200901BS70033	31/01/21	Jan	2021	Saturday	Give way or uncontrolled	Crossroads	Slight	51.49452	Daylight	Kensington and Chelsea	None
200901BS70035	29/01/21	Jan	2021	Thursday	Auto traffic signal	Crossroads	Slight	51.50862	Daylight	Kensington and Chelsea	None
200901BS70036	31/01/21	Jan	2021	Saturday	Auto traffic signal	Crossroads	Slight	51.49117	Darkness - lights lit	Kensington and Chelsea	None
200901BS70037	28/01/21	Jan	2021	Wednesday	Give way or uncontrolled	T or staggered junction	Slight	51.49548	Daylight	Kensington and Chelsea	None
200901BS70039	27/01/21	Jan	2021	Tuesday	Auto traffic signal	Crossroads	Serious	51.49566	Daylight	Kensington and Chelsea	None
200901BS70040	31/01/21	Jan	2021	Saturday	Give way or uncontrolled	T or staggered junction	Slight	51.49973	Daylight	Kensington and Chelsea	None
200901BS70041	22/01/21	Jan	2021	Thursday	Give way or uncontrolled	T or staggered junction	Slight	51.5078	Darkness - lights lit	Kensington and Chelsea	None
200901BS70042	29/01/21	Jan	2021	Thursday	Auto traffic signal	T or staggered junction	Slight	51.50897	Darkness - lights lit	Kensington and Chelsea	None
200901BS70043	20/01/21	Jan	2021	Tuesday	Auto traffic signal	T or staggered junction	Slight	51.51304	Daylight	Kensington and Chelsea	None

Requirement | KPI | DASHBOARD | Data Analysis Sheet | MT | Road Type | Road Surface | light Condition | Data

Ready Accessibility: Investigate 92%

Year	2021
Row Labels	Sum of Number_of_Casualties
Jan	18173
Feb	14648
Mar	17815
Apr	17335
May	18852
Jun	18728
Jul	19682
Aug	18797
Sep	18456
Oct	20109
Nov	20975
Dec	18576
Grand Total	**222146**

Year	2022
Row Labels	Sum of Number_of_Casualties
Jan	13163
Feb	14804
Mar	16575
Apr	15767
May	16775
Jun	17230
Jul	17201
Aug	16796
Sep	17500
Oct	18287
Nov	18439
Dec	13200
Grand Total	**195737**

Month	2021 Casualities	2022 Casualities
Jan	18173	13163
Feb	14648	14804
Mar	17815	16575
Apr	17335	15767
May	18852	16775
Jun	18728	17230
Jul	19682	17201
Aug	18797	16796
Sep	18456	17500
Oct	20109	18287
Nov	20975	18439
Dec	18576	13200

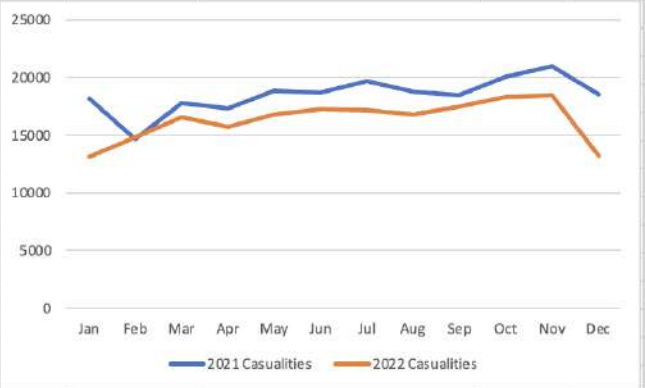

Requirement | KPI | DASHBOARD | Data Analysis Sheet | MT | Road Type | Road Surface | light Condition | Data

Row Labels	Sum of Number_of_Casualties
(blank)	0.8K
Slip road	2.2K
One way street	3.5K
Roundabout	12.7K
Dual carriageway	31.9K
Single carriageway	144.7K
Grand Total	**195737**

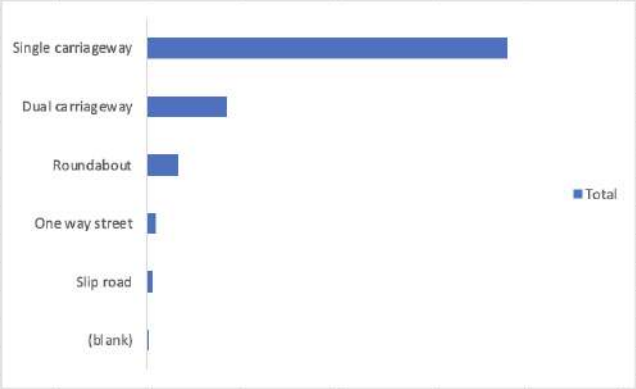

Row Labels	Sum of Number_of_Casualties
Dry	131976
(blank)	202
Wet	50341
Snow	13218
Grand Total	**195737**

Road Surface	no.of Casualities
Dry	131976
(blank)	202
Wet	50341
Snow	13218

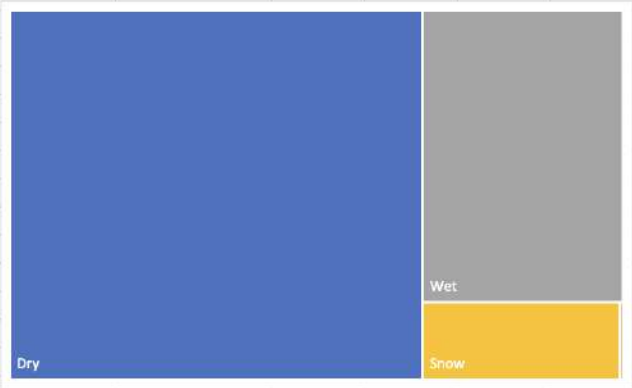

Requirement | KPI | DASHBOARD | Data Analysis Sheet | MT | Road Type | Road Surface | light Condition | Data

Row Labels	Sum of Number_of_Casualties
Rural	74.5K
Urban	121.3K
Grand Total	**195737**

Row Labels	Sum of Number_of_Casualties
Daylight	144.5K
Dark	51.2K
Grand Total	**195737**

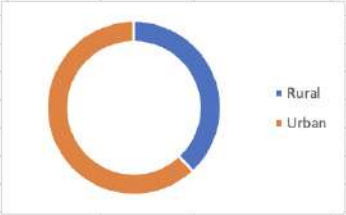

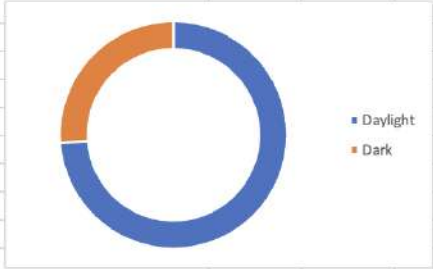

Road Accident Data

Sum of Number_of_Casualties		
417883	417883	417883

Accident Date

2022

YEARS

2021 2022 2023

Urban_or_Rural_Area

Rural

Urban

Row Labels	Sum of Number_of_Casualties
Fatal	2855
Serious	27045
Slight	165837
Grand Total	**195737**

Fatal Severity		
Fatal	2855	1.5%
Other	192882	98.5%

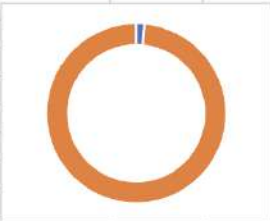

Serious Severity		
Serious	27045	13.8%
Other	168692	86.2%

Slight Severity		
Slight Severity	165837	84.7%
Other	29900	15.3%

Row Labels	Sum of Number_of_Casualties	
Agricultural vehicle	399	399
Cars	155804	155804
Bus	6573	6573
Van	15905	15905
Bike	15579	15579

car Casualities		
Car	155804	79.6%
Others	39933	20.4%

Requirement | KPI | DASHBOARD | Data Analysis Sheet | MT | Road Type | Road Surface | light Condition | Data

PRIMARY KPI

Sum of Number_of_Casualties
417883

PRIMARY KPI

Row Labels	Sum of Number_of_Casualties
Fatal	2855
Serious	27045
Slight	165837
Grand Total	**195737**

SECONDARY KPI

Row Labels	Sum of Number_of_Casualties
Agricultural vehicle	399
Cars	155804
Bus	6573
Van	15905
Bike	15579
Other	1477
Grand Total	**195737**

URBAN/RURAL

Row Labels	Sum of Number_of_Casualties
Rural	74.5K
Urban	121.3K
Grand Total	**195737**

ROAD TYPE

Row Labels	Sum of Number_of_Casualties
(blank)	0.8K
Slip road	2.2K
One way street	3.5K
Roundabout	12.7K
Dual carriageway	31.9K
Single carriageway	144.7K
Grand Total	**195737**

MONTHLY TREND

Year	2022

Row Labels	Sum of Number_of_Casualties
Jan	13163
Feb	14804
Mar	16575
Apr	15767
May	16775
Jun	17230
Jul	17201
Aug	16796
Sep	17500
Oct	18287
Nov	18439
Dec	13200
Grand Total	**195737**

Year	2021

Row Labels	Sum of Number_of_Casualties
Jan	18173
Feb	14648
Mar	17815
Apr	17335
May	18852
Jun	18728
Jul	19682
Aug	18797
Sep	18456
Oct	20109
Nov	20975
Dec	18576
Grand Total	**222146**

ROAD SURFACE

Row Labels	Sum of Number_of_Casualties
Dry	131976
(blank)	202
Wet	50341
Snow	13218
Grand Total	**195737**

LIGHT CONDITION

Row Labels	Sum of Number_of_Casualties
Daylight	144.5K
Dark	51.2K
Grand Total	**195737**

ROAD ACCIDENT DASHBOARD

Total Casualities 417883

Total Casualities

2855

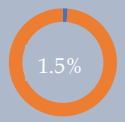

Serious Casualities

27045

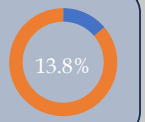

Slight Casualities

165837

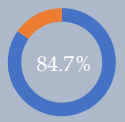

Casualities by Car

155804

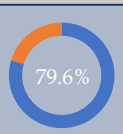

Total Casualities by Vehicle Type

15905

6573

15579

155804

1477

CY Casualities VS PY Casualities Monthly Trend

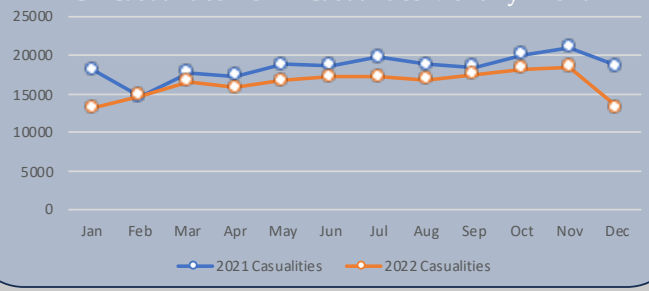

Casualities by Road Type

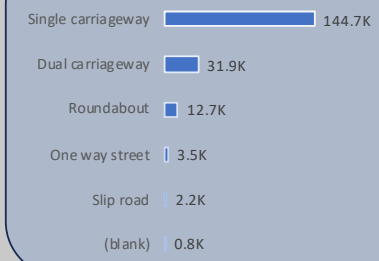

Casualities by Road Surface

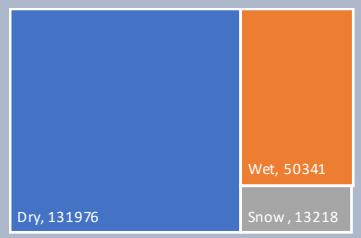

Casualities by Location

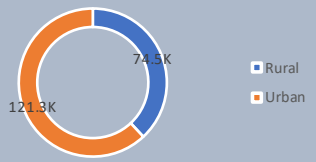

Casualities by Light Condition

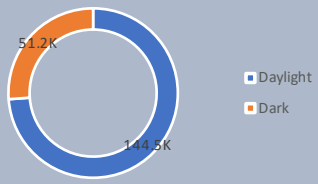

Filter Panel

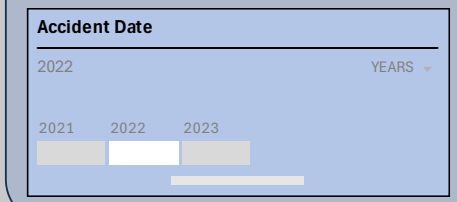

Urban_or_Rural...

Rural

Urban